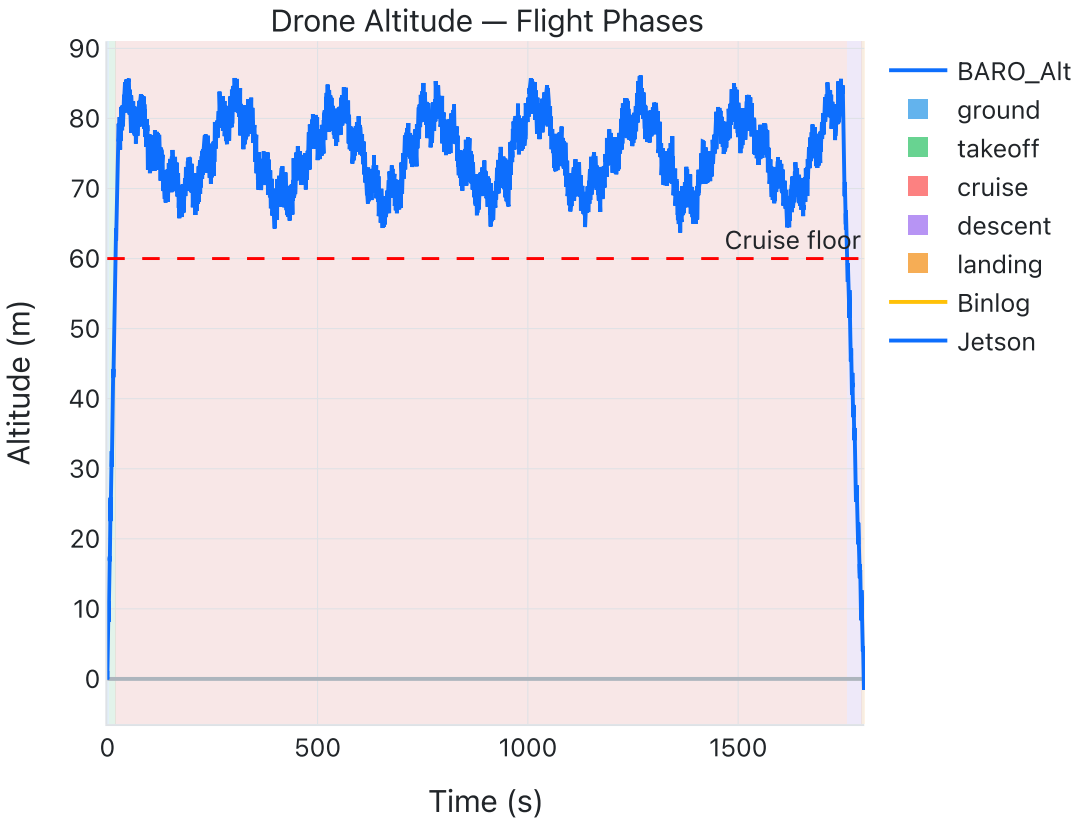
Drone Altitude — Flight Phases
Altitude (m)
Time (s)
Cruise floor
BARO_Alt
ground
takeoff
cruise
descent
landing
Binlog
Jetson

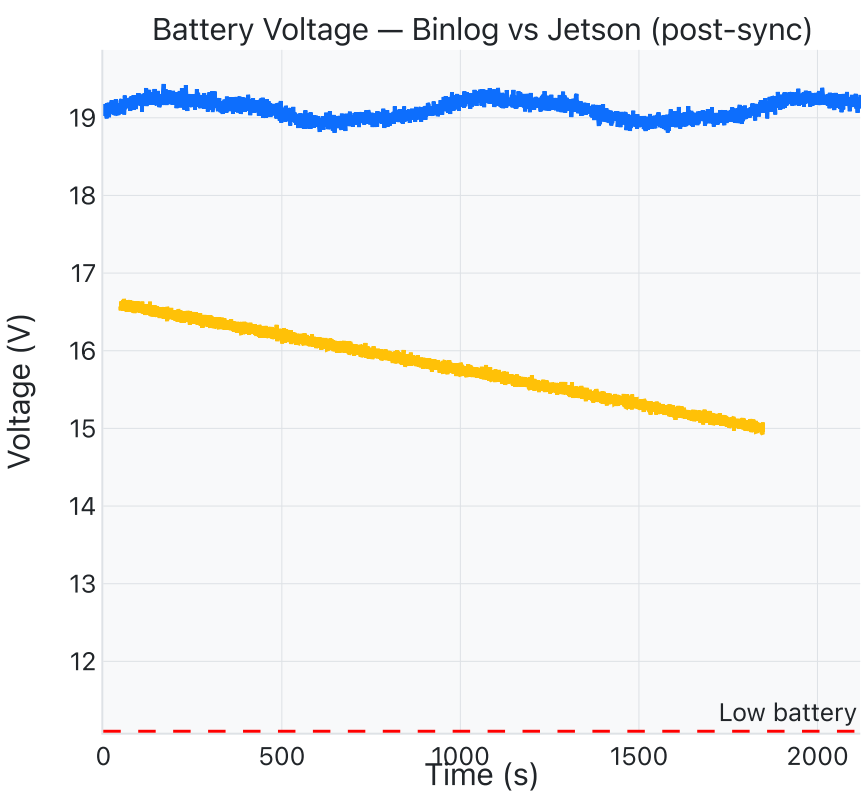
Battery Voltage — Binlog vs Jetson (post-sync)
Voltage (V)
Time (s)
Low battery

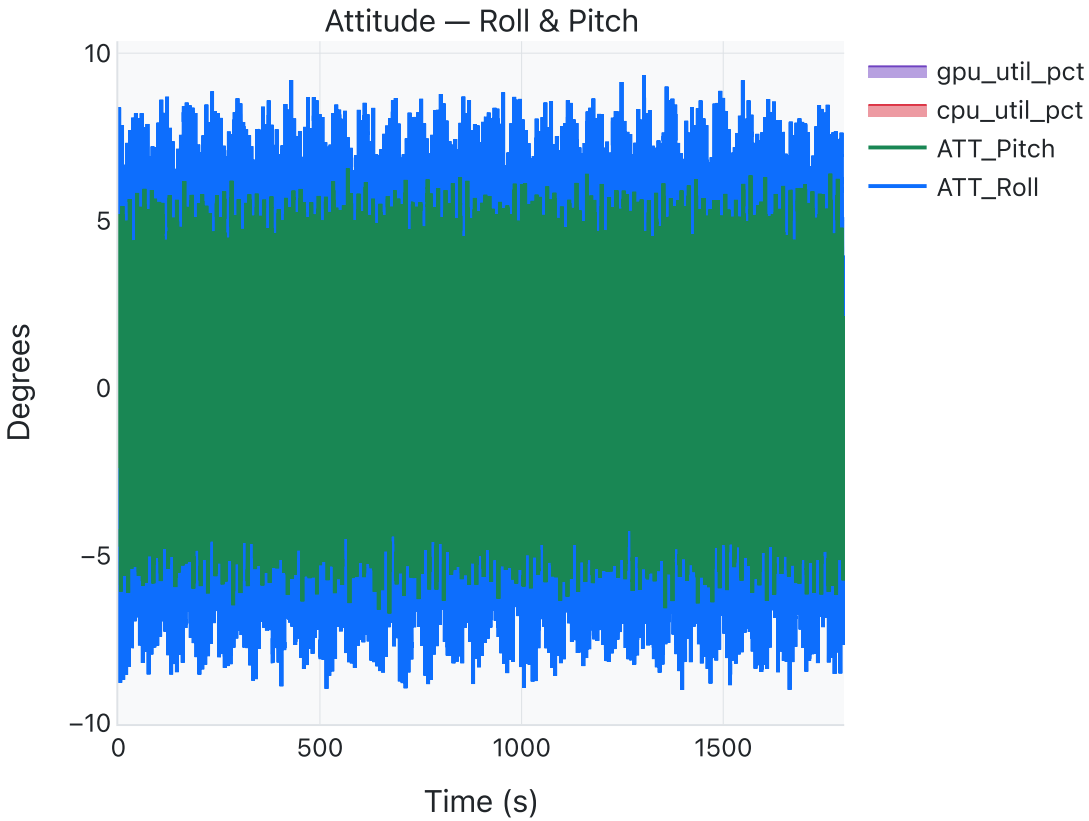
Attitude — Roll & Pitch
gpu_util_pct
cpu_util_pct
ATT_Pitch
ATT_Roll
Degrees
10
5
0
−5
−10
0
500
1000
1500
Time (s)

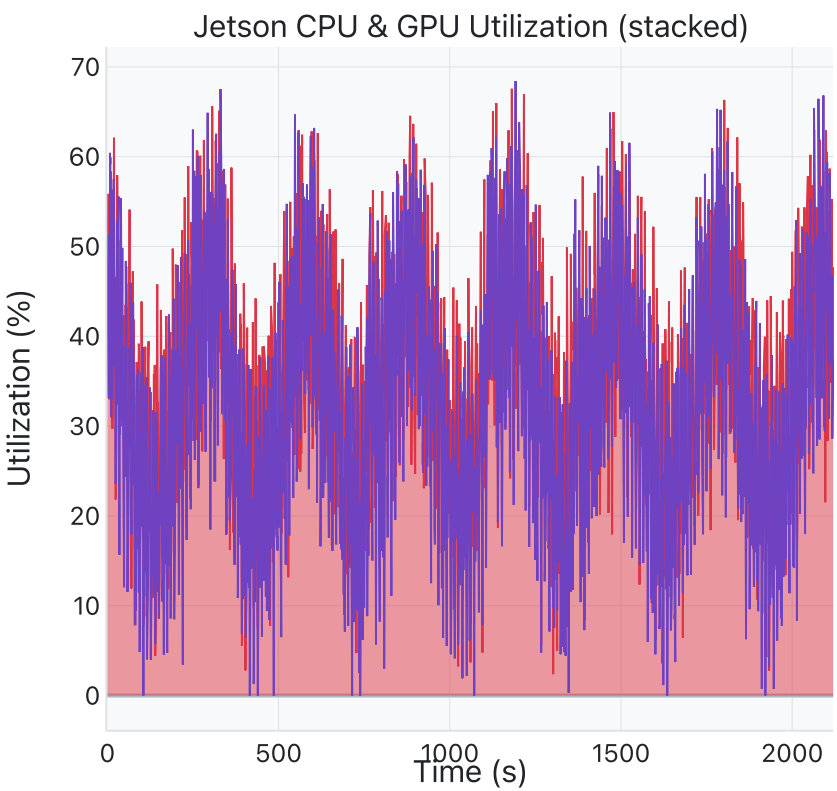
Jetson CPU & GPU Utilization (stacked)
Utilization (%)
70
60
50
40
30
20
10
0
0
500
1000
1500
2000
Time (s)

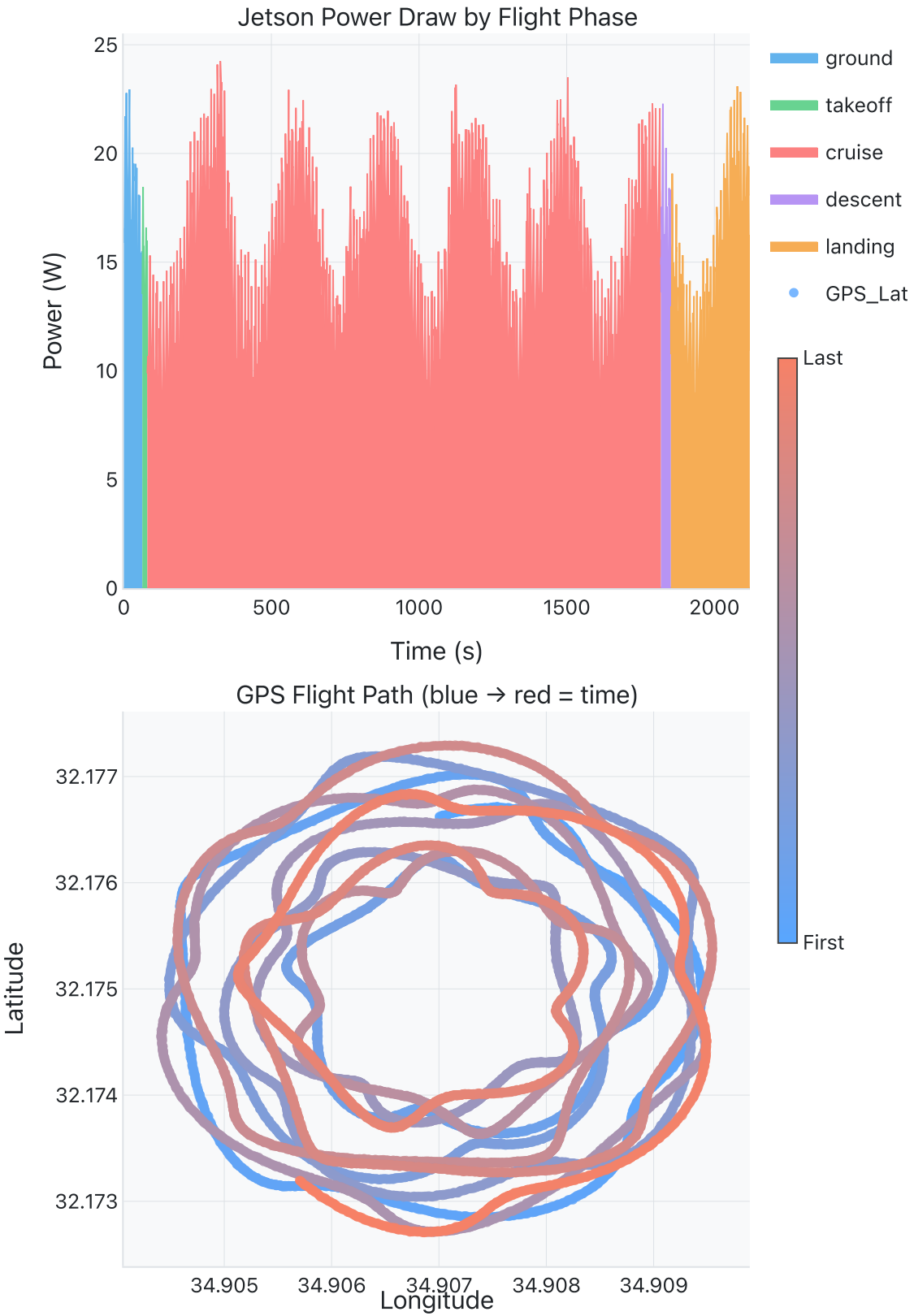
Jetson Power Draw by Flight Phase
Power (W)
Time (s)
0
5
10
15
20
25
0
500
1000
1500
2000
ground
takeoff
cruise
descent
landing
GPS_Lat
Last
First
GPS Flight Path (blue → red = time)
Latitude
Longitude
32.173
32.174
32.175
32.176
32.177
34.905
34.906
34.907
34.908
34.909
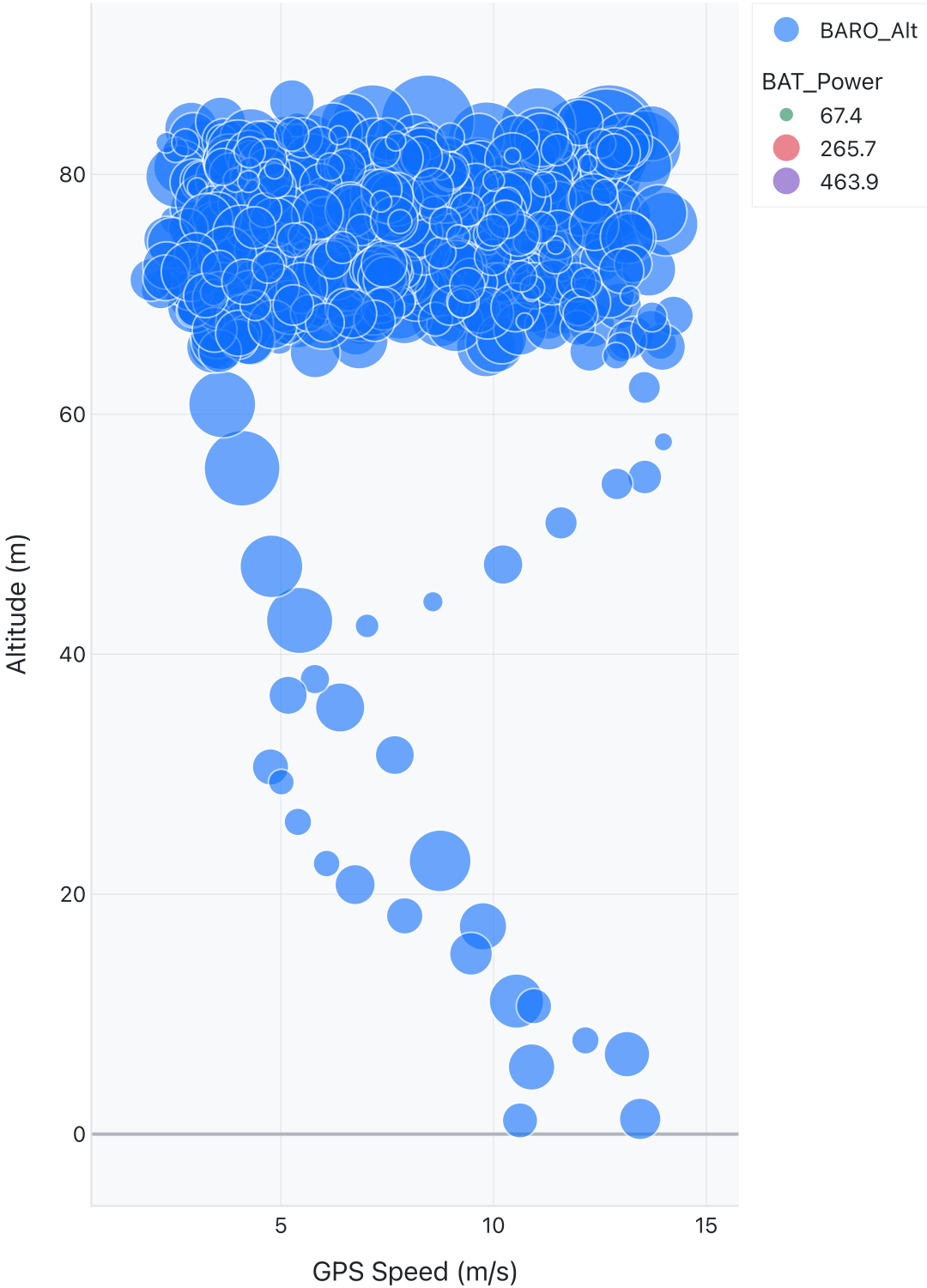
Speed vs Altitude (bubble size = power draw)