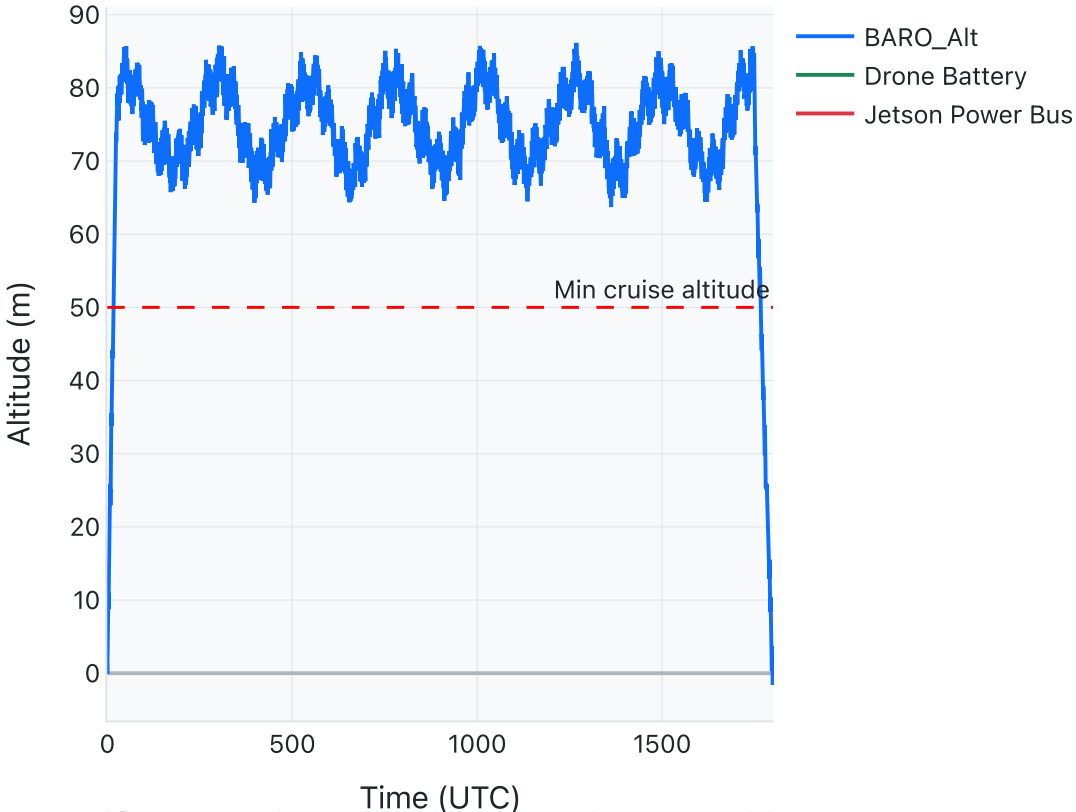
BARO_Alt
Drone Battery
Jetson Power Bus
Altitude (m)
90
80
70
60
50
40
30
20
10
0
Min cruise altitude
0
500
1000
1500
Time (UTC)

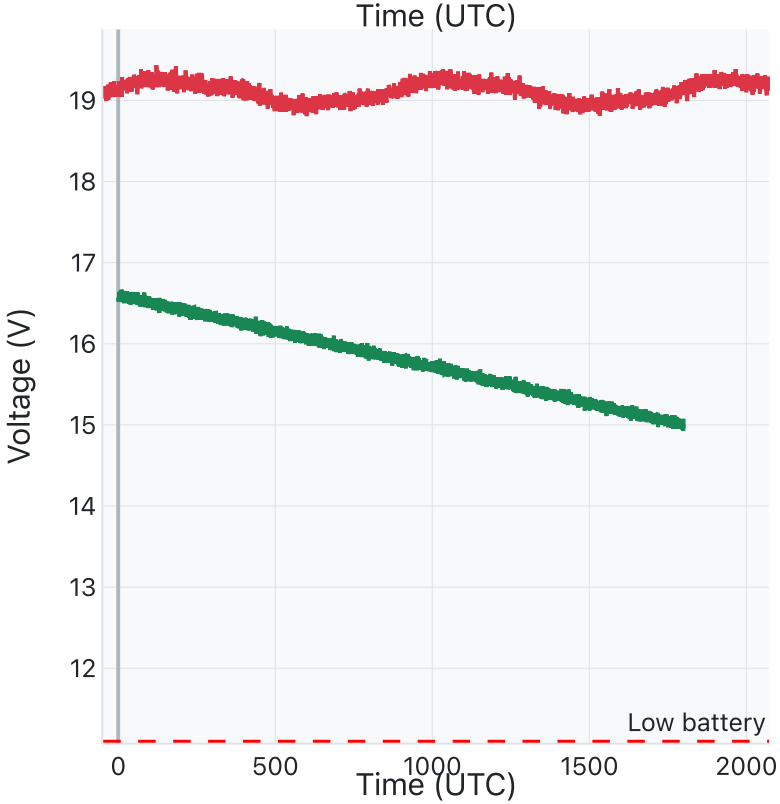
Voltage (V)
19
18
17
16
15
14
13
12
Low battery
0
500
1000
1500
2000
Time (UTC)

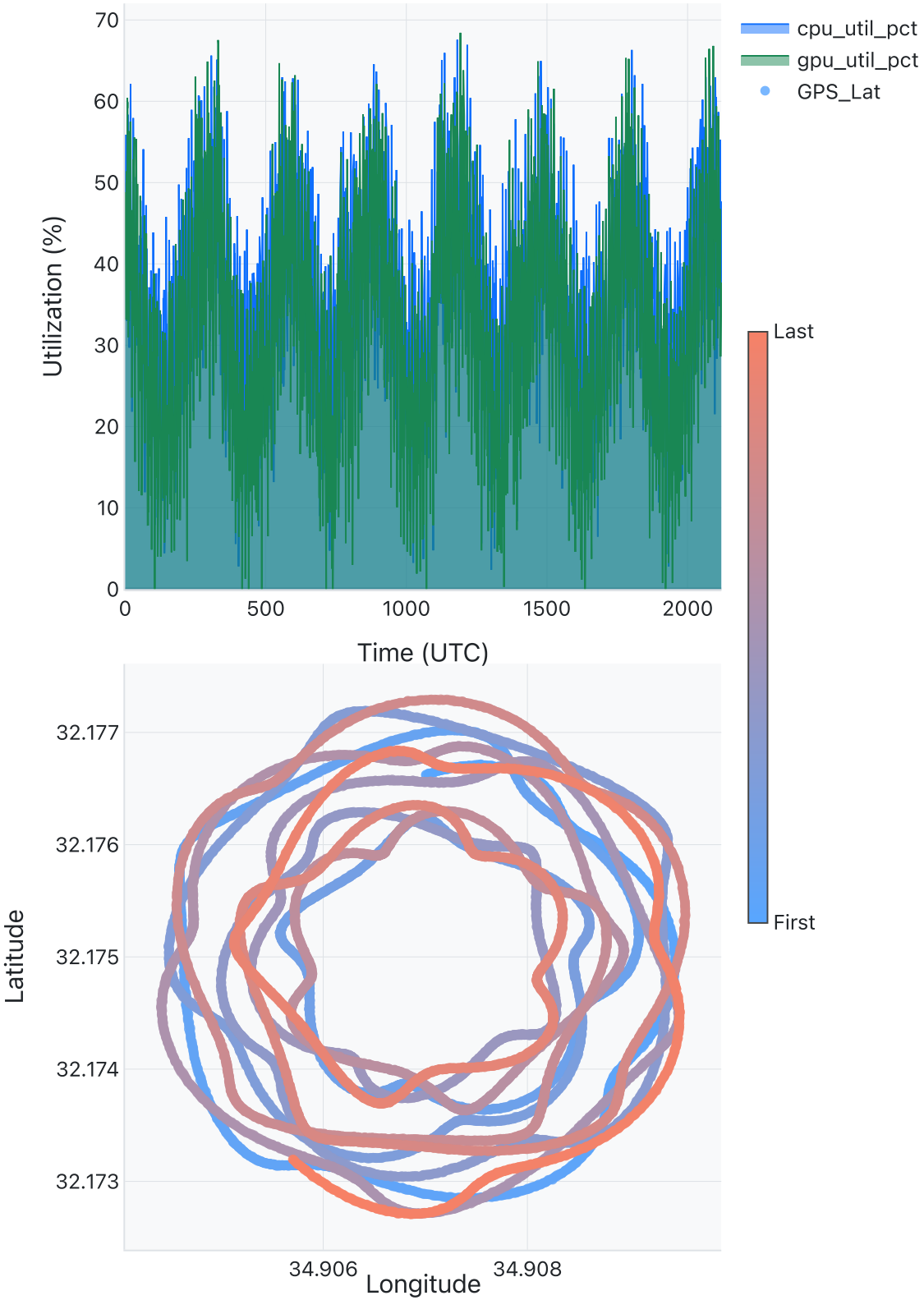
cpu_util_pct
gpu_util_pct
GPS_Lat
Utilization (%)
70
60
50
40
30
20
10
0
0
500
1000
1500
2000
Time (UTC)
Last
First
Latitude
32.177
32.176
32.175
32.174
32.173
34.906
34.908
Longitude